Show Me

Data | Analytics

Globle (GlobleData)

Search

Tables

- Hierarchy
  - Continent
  - Country
  - Region
- *Measure Names*
- Population 2018
- Population 2019
- S.No.
- *Globle (Count)*
- *Latitude (generated)*
- *Longitude (generated)*
- *Measure Values*

Pages

Filters

Marks

Shape

Color | Size | Label

Detail | Tooltip | Shape

Continent

Continent

Country

Columns: Longitude (generated)

Rows: Latitude (generated)

Changing the shape of the dots with different dot for each continent

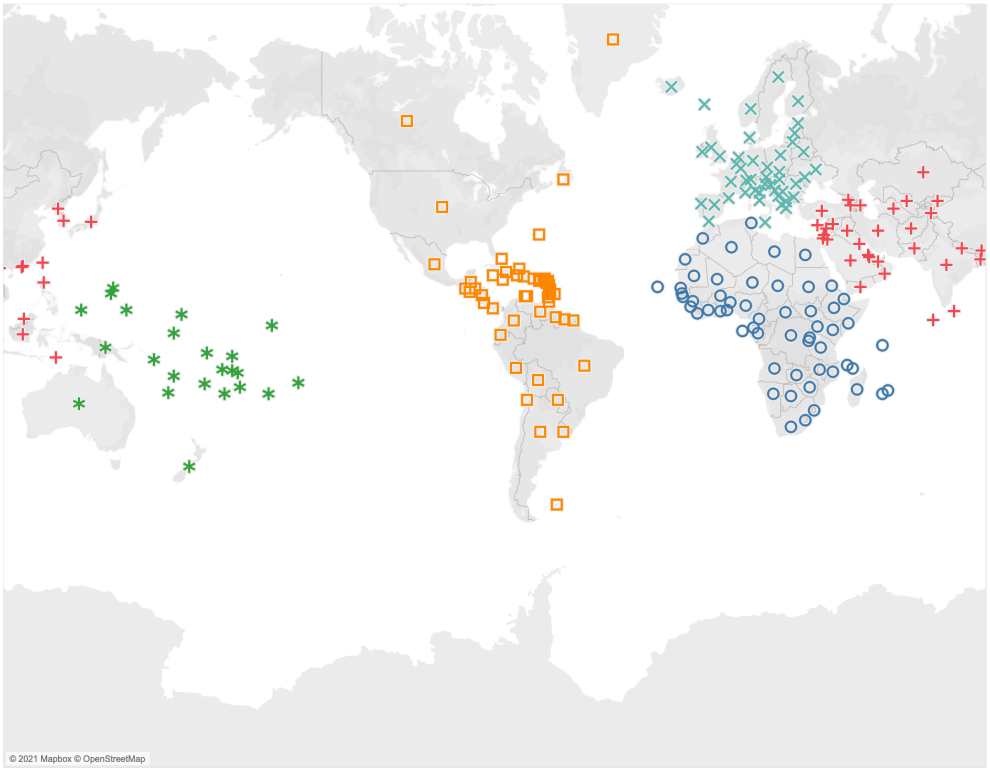

Continent

- Africa
- Americas
- Asia
- Europe
- Oceania

Data Source | Answer 1 | Answer 2 | Answer 3

229 marks 1 row by 1 column

Show Me

Data | Analytics

Globle (GlobleData)

Search

Tables

- Hierarchy
  - Continent
  - Country
  - Region
- *Measure Names*
- Population 2018
- Population 2019
- S.No.
- *Globle (Count)*
- *Latitude (generated)*
- *Longitude (generated)*
- *Measure Values*

Pages

Filters

Marks

Shape

Color | Size | Label

Detail | Tooltip | Shape

Continent

Country

Columns: Longitude (generated)

Rows: Latitude (generated)

Changing the color of the dots with the help of color marks

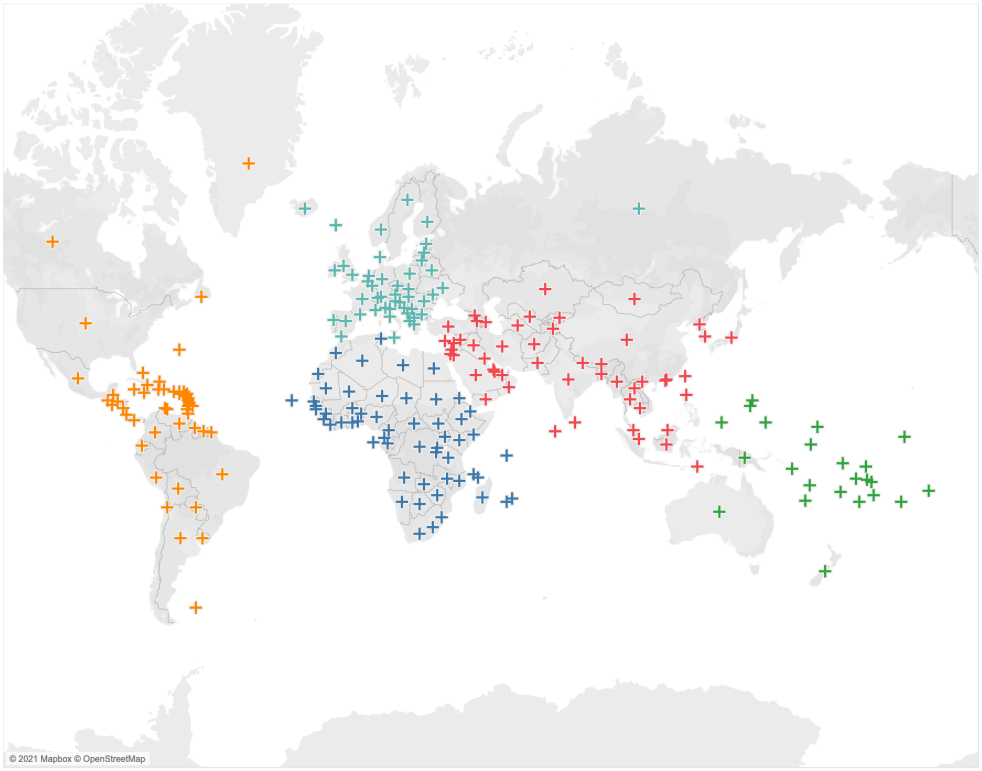

Continent

- Africa
- Americas
- Asia
- Europe
- Oceania

Data Source | Answer 1 | Answer 2 | Answer 3

229 marks 1 row by 1 column

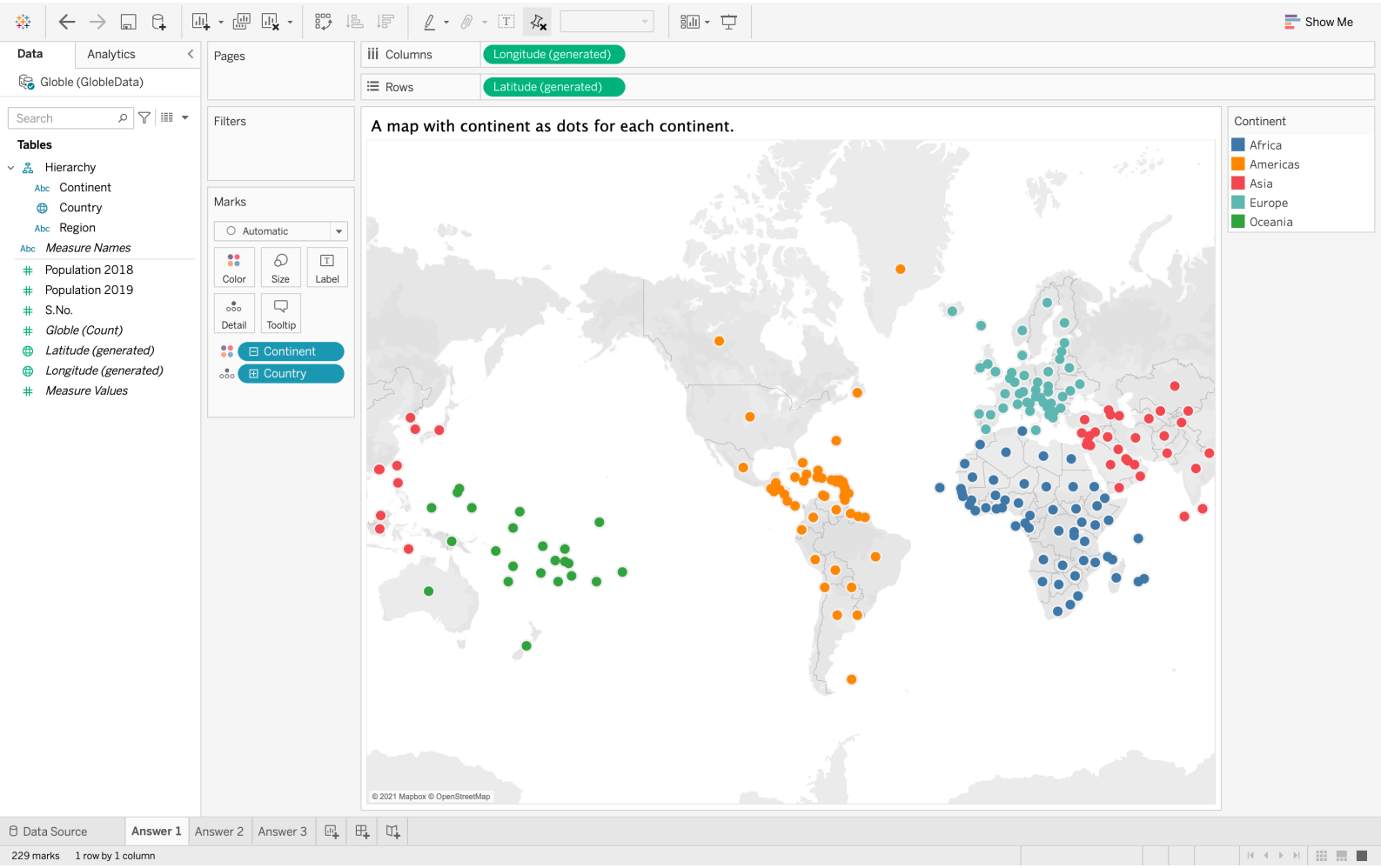
Show Me
Data
Analytics
Globle (GlobleData)
Search
Tables
Hierarchy
Continent
Country
Region
Measure Names
Population 2018
Population 2019
S.No.
Globle (Count)
Latitude (generated)
Longitude (generated)
Measure Values
Pages
Filters
Marks
Automatic
Color
Size
Label
Detail
Tooltip
Continent
Country
Columns
Longitude (generated)
Rows
Latitude (generated)
A map with continent as dots for each continent.
© 2021 Mapbox © OpenStreetMap
Continent
Africa
Americas
Asia
Europe
Oceania
Data Source
Answer 1
Answer 2
Answer 3
229 marks
1 row by 1 column